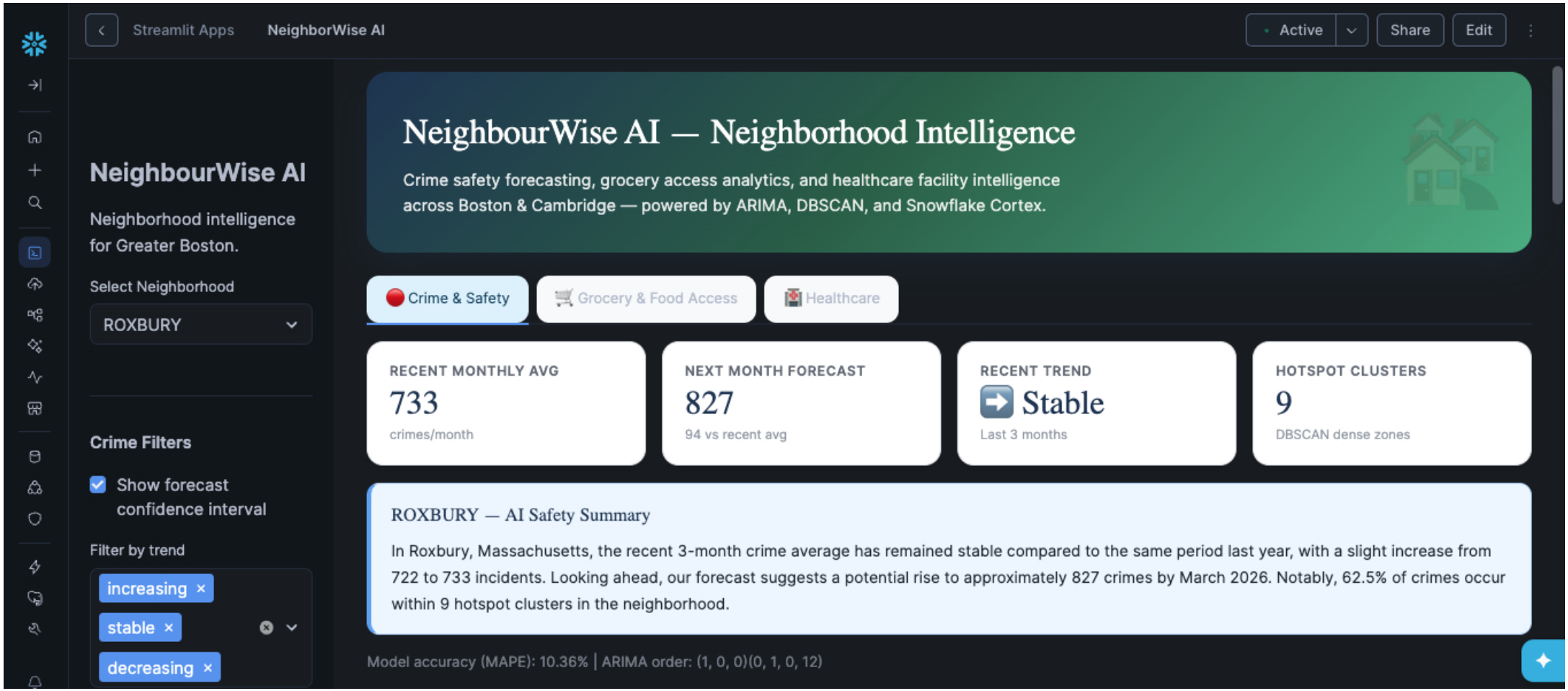
Streamlit Apps
NeighborWise AI
Active
Share
Edit
NeighbourWise AI
Neighborhood intelligence for Greater Boston.
Select Neighborhood
ROXBURY
Crime Filters
Show forecast confidence interval
Filter by trend
increasing ×
stable ×
decreasing ×
NeighbourWise AI — Neighborhood Intelligence
Crime safety forecasting, grocery access analytics, and healthcare facility intelligence across Boston & Cambridge — powered by ARIMA, DBSCAN, and Snowflake Cortex.
Crime & Safety
Grocery & Food Access
Healthcare
RECENT MONTHLY AVG
733
crimes/month
NEXT MONTH FORECAST
827
94 vs recent avg
RECENT TREND
Stable
Last 3 months
HOTSPOT CLUSTERS
9
DBSCAN dense zones
ROXBURY — AI Safety Summary
In Roxbury, Massachusetts, the recent 3-month crime average has remained stable compared to the same period last year, with a slight increase from 722 to 733 incidents. Looking ahead, our forecast suggests a potential rise to approximately 827 crimes by March 2026. Notably, 62.5% of crimes occur within 9 hotspot clusters in the neighborhood.
Model accuracy (MAPE): 10.36% | ARIMA order: (1, 0, 0)(0, 1, 0, 12)

## Crime Incidents — ROXBURY

Each point is a crime incident (last 12 months).

**5,386** hotspot (62.5%) across **9** clusters | **3,233** dispersed

## Neighborhood Safety Score — Boston & Cambridge

Green = safer, red = higher concern.

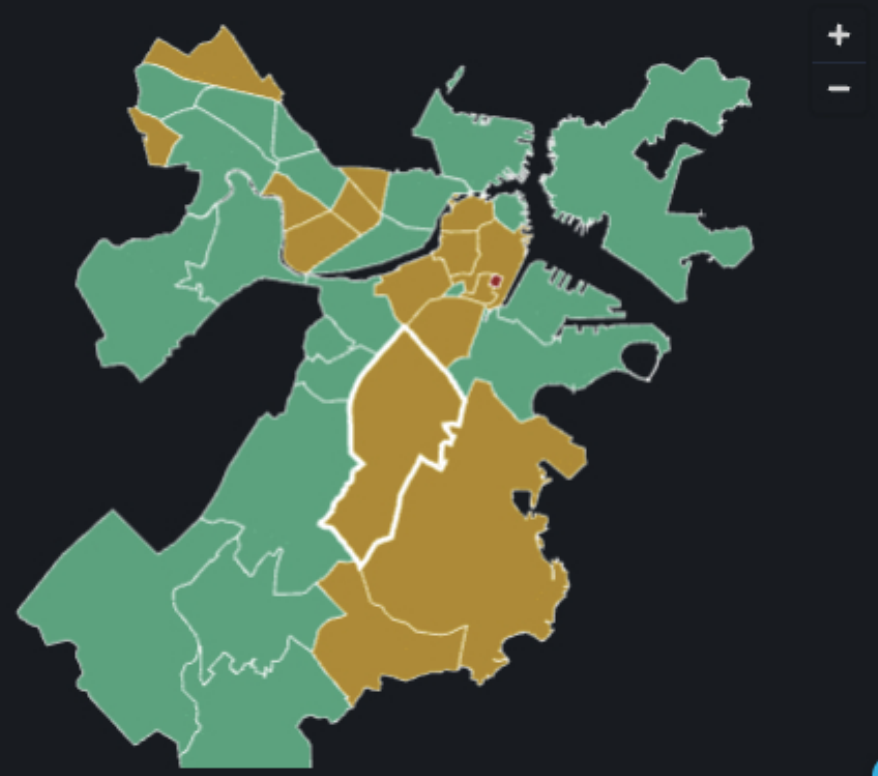


**Excellent (≥75)** **Good (50–74)** **Moderate (25–49)** **High Concern (<25)**

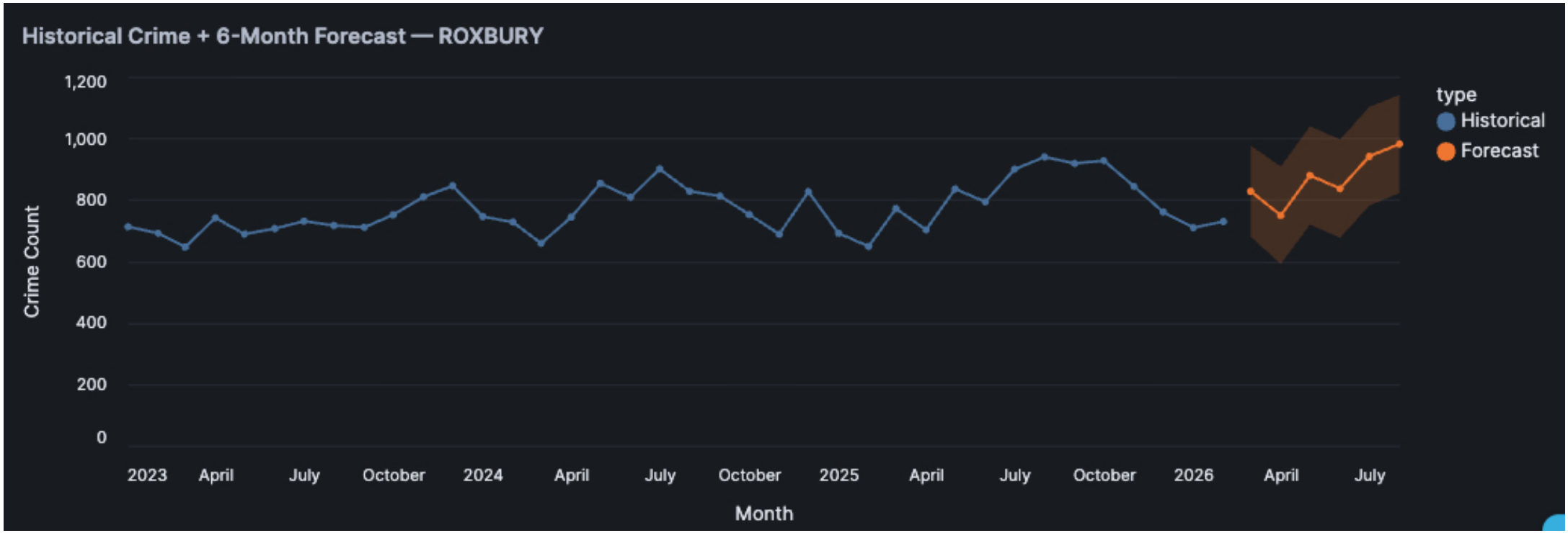
Historical Crime + 6-Month Forecast — ROXBURY
1,200
1,000
800
600
400
200
0
Crime Count
2023
April
July
October
2024
April
July
October
2025
April
July
October
2026
April
July
Month
type
Historical
Forecast

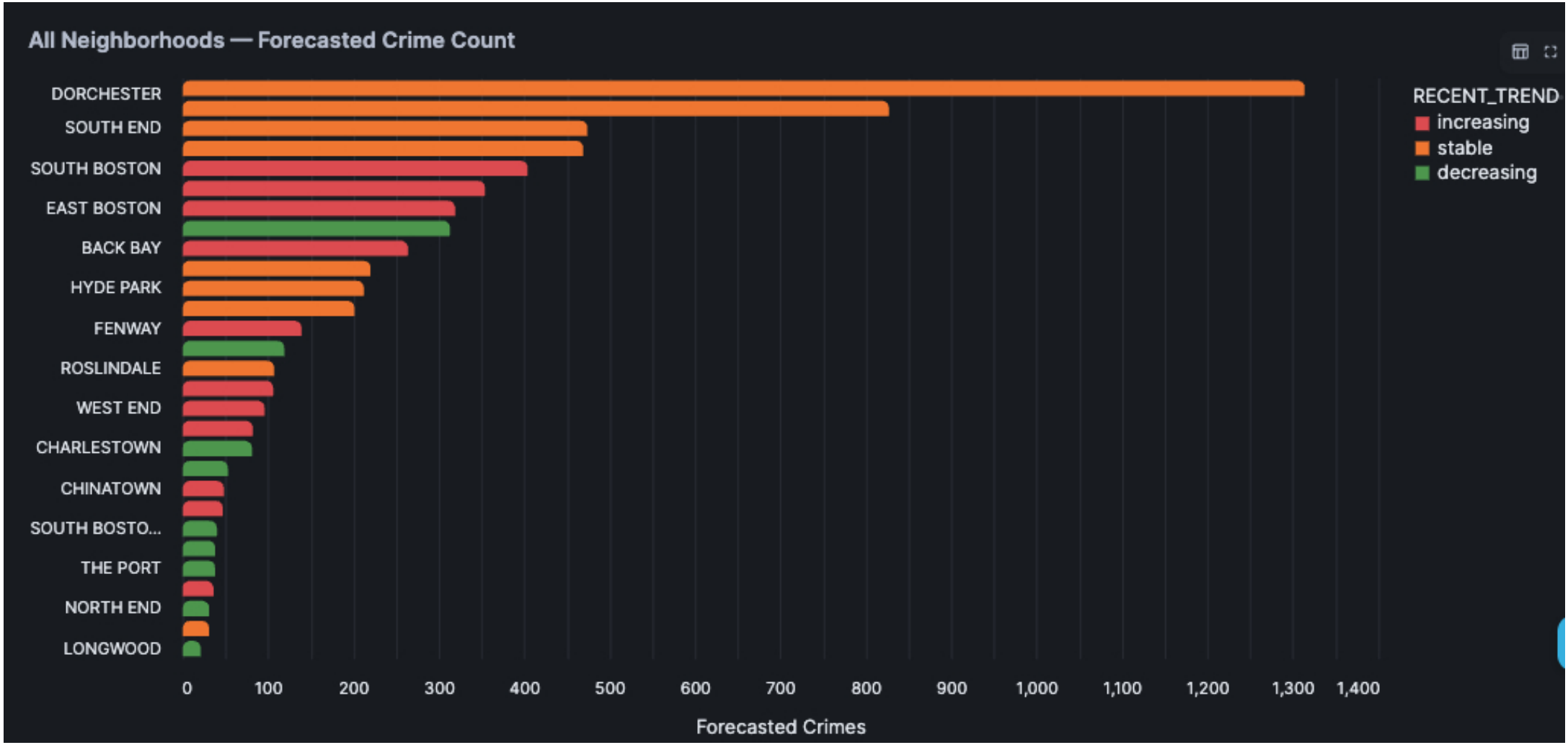
All Neighborhoods — Forecasted Crime Count
DORCHESTER
SOUTH END
SOUTH BOSTON
EAST BOSTON
BACK BAY
HYDE PARK
FENWAY
ROSLINDALE
WEST END
CHARLESTOWN
CHINATOWN
SOUTH BOSTO...
THE PORT
NORTH END
LONGWOOD
0
100
200
300
400
500
600
700
800
900
1,000
1,100
1,200
1,300
1,400
Forecasted Crimes
RECENT_TREND
increasing
stable
decreasing

**Ask Cortex About Crime Trends**

Focused on **ROXBURY** + adjacent neighborhoods. Questions about other areas will be answered in context of ROXBURY.

Your question

I am planning to move to Roxbury. Is it safe? Can you provide safer adjacent neighborhoods if any?

**Cortex:** In Roxbury, Massachusetts, the recent 3-month crime average has remained stable compared to the same period last year, with a slight increase from 722 to 733 incidents. Looking ahead, our forecast suggests a potential rise to approximately 827 crimes by March 2026. Notably, 62.5% of crimes occur within 9 hotspot clusters in the neighborhood.

Comparatively, some adjacent neighborhoods have lower crime rates. For instance, Back Bay has seen an uptick in crime, but it's still lower than Roxbury, with an average of 298 incidents over the past three months. Similarly, Fenway and Mission Hill have lower crime rates, with averages of 131 and 97 monthly crimes, respectively. However, it's essential to note that each neighborhood has its unique characteristics, and safety is just one aspect to consider when deciding where to live.

## Boston Food Access Map

Viewing: **ROXBURY** (highlighted with white border)

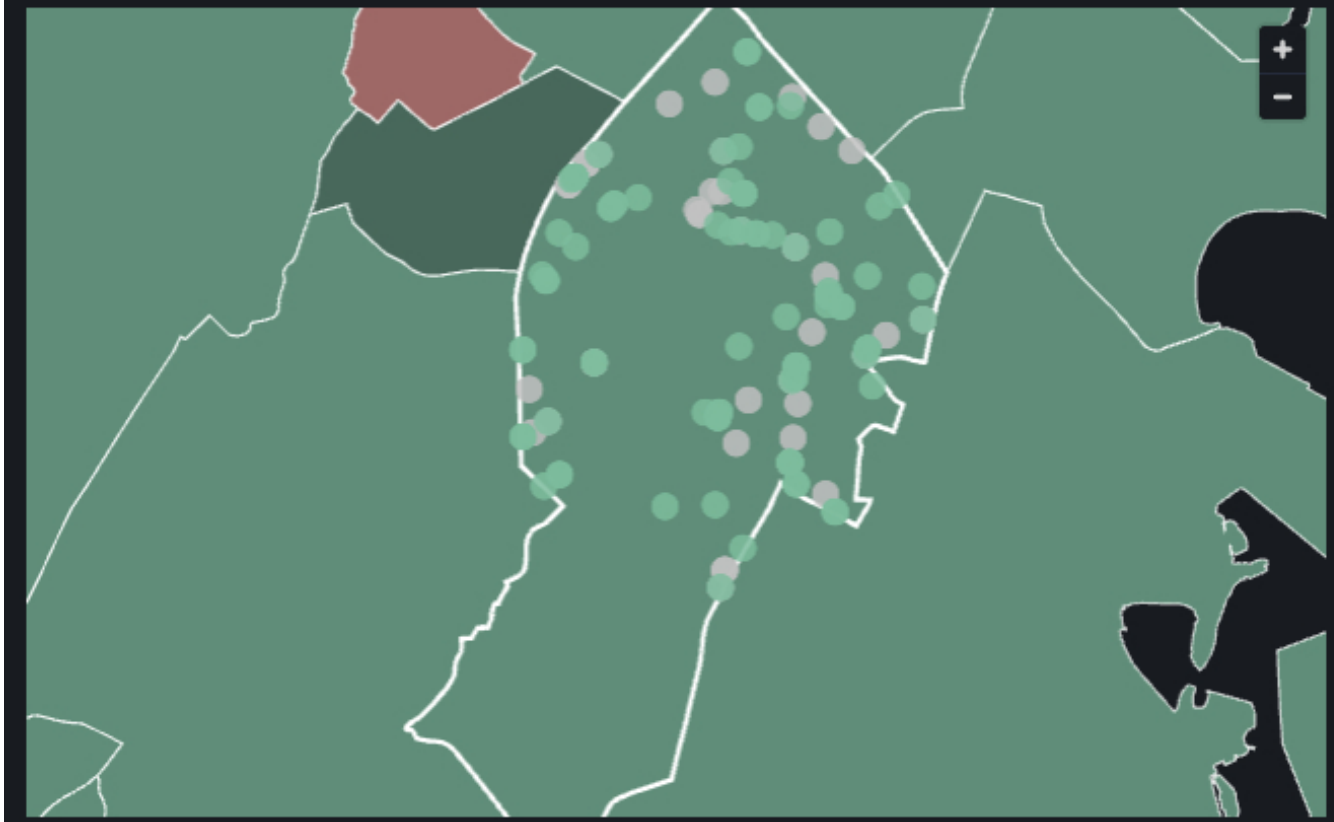

■ High Access ■ Good Access ■ Fair Access ■ Low Access

## ROXBURY — Snapshot

**Access Tier:** High Access

**Total Stores:** 133 **Essential Stores:** 90 (67.7%) **Supermarkets:** 79 **Convenience:** 43 **Specialty:** 10 **Pharmacies:** 0 **Farmers Markets:** 1

**DBSCAN Clusters:** 14 **Clustered Share:** 84.2% **Isolated Stores:** 15.8%

### AI Narrative

Roxbury, a neighborhood in Boston/Cambridge, Massachusetts, enjoys high food access with 133 grocery and food retail stores, predominantly supermarkets and convenience stores. Notably, 84.2% of these stores are concentrated in 14 geographic clusters. While the area boasts a variety of essential food sources, it lacks pharmacies and has only one farmers/winter market.

Data year: 2021 · Reliability: HIGH

### Neighboring Areas

| NEIGHBORHOOD_NAME | ESSENTIAL_STORE_COUNT | TOTAL_STORES |
|---|---|---|

## Boston Neighborhood Healthcare Map

Viewing: **ROXBURY** (highlighted with white border)

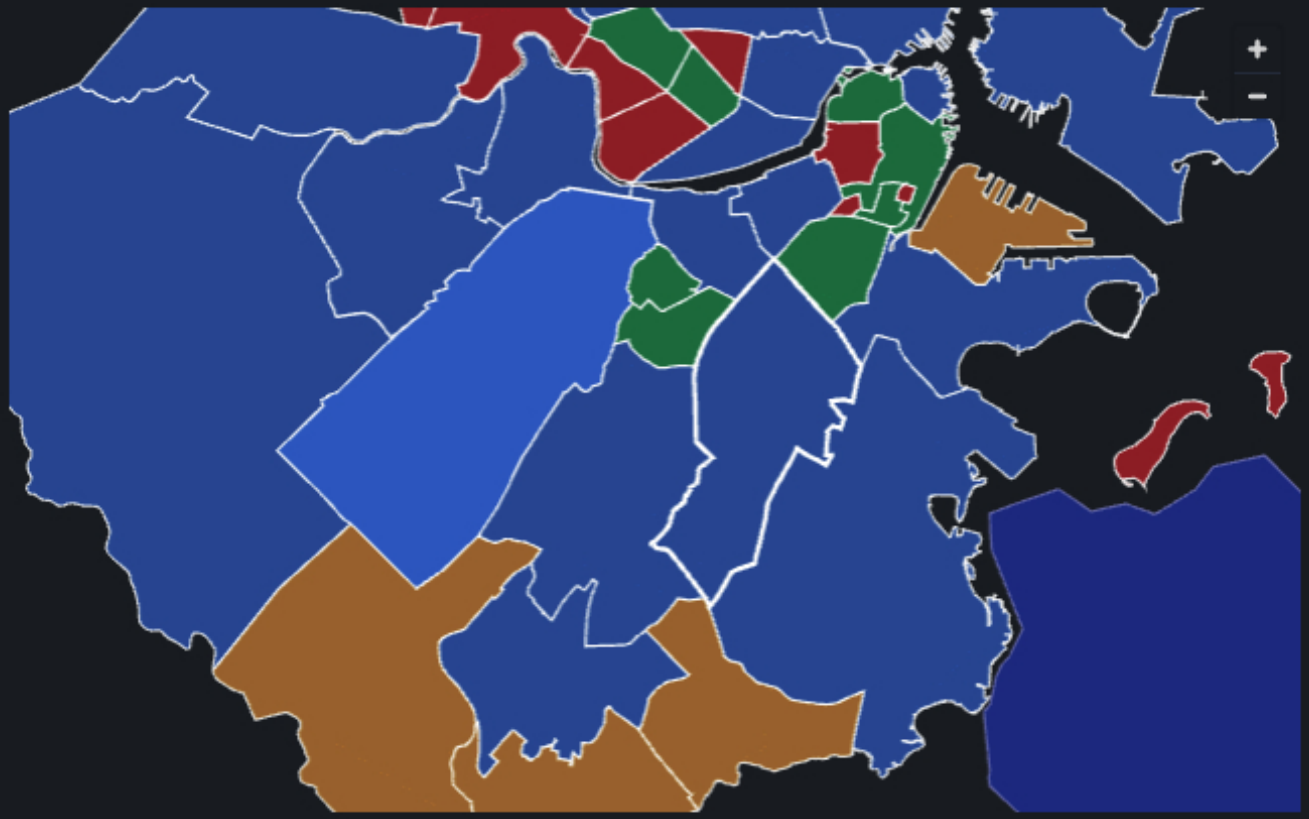

Excellent Good Moderate Limited

## ROXBURY — Snapshot

**Healthcare Score:** 73.6 **Grade:** GOOD

**Total Facilities:** 16 **Hospitals:** 3 **Clinics:** 10 **Facilities / Sq Mile:** 4.86 **Core Care %:** 81.3 **Valid Phone %:** 100.0 **Healthcare Clusters:** 4 **Clustered Share %:** 75.0

### AI Narrative

Roxbury, a neighborhood in Boston, Massachusetts, offers relatively good healthcare access with a score of 73.6 out of 100. The area hosts 16 healthcare facilities, including 3 hospitals and 10 clinics, translating to a density of 4.86 facilities per square mile. Core care coverage is at 81.3%, with 100% valid phone coverage. Notably, 75% of the facilities are clustered in 4 healthcare hotspots, while the remaining 25% are isolated facilities.